Ndumiso Baliti **11 March 2026**

BLTNDU001 **Prof. M. Vichi**

SEA4001W

Data Sciencce

P2: Plotting oceanographic data and timeseries

Part 1

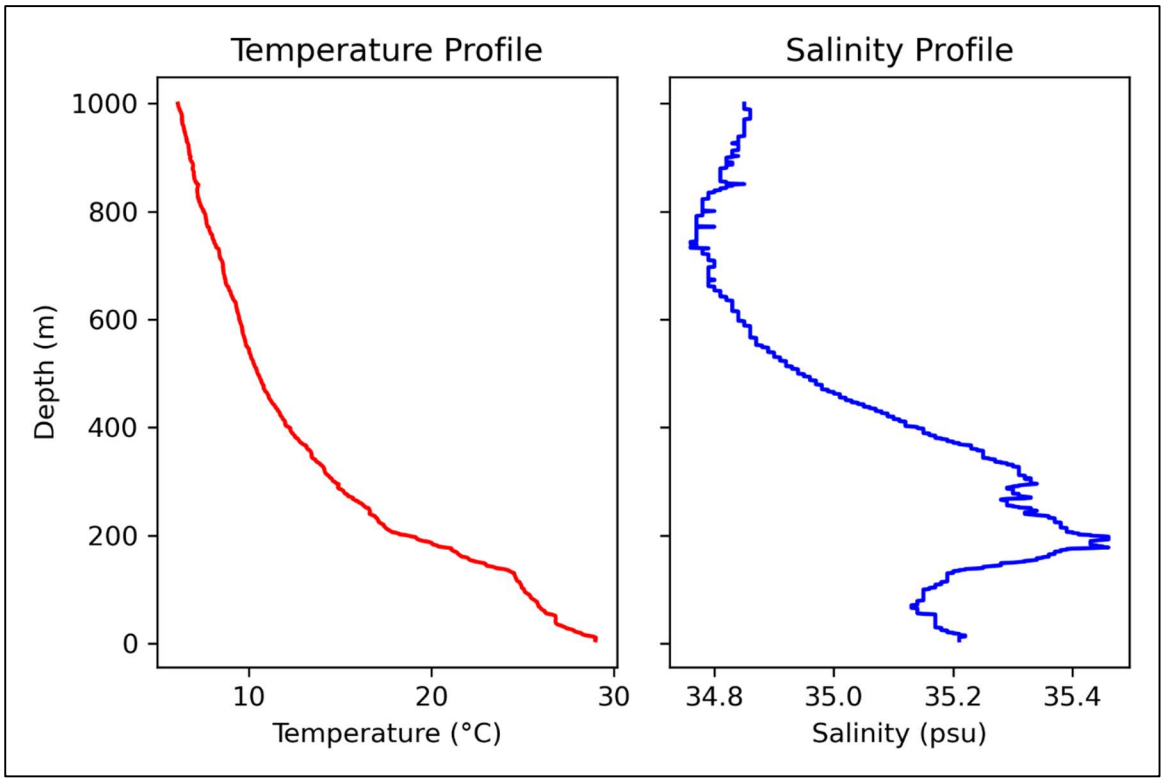

Figure 1: The figure shows small multiple panels of Temperature profile and Salinity profile across different depths sharing the y axis.

Part 2

Temperature Time series

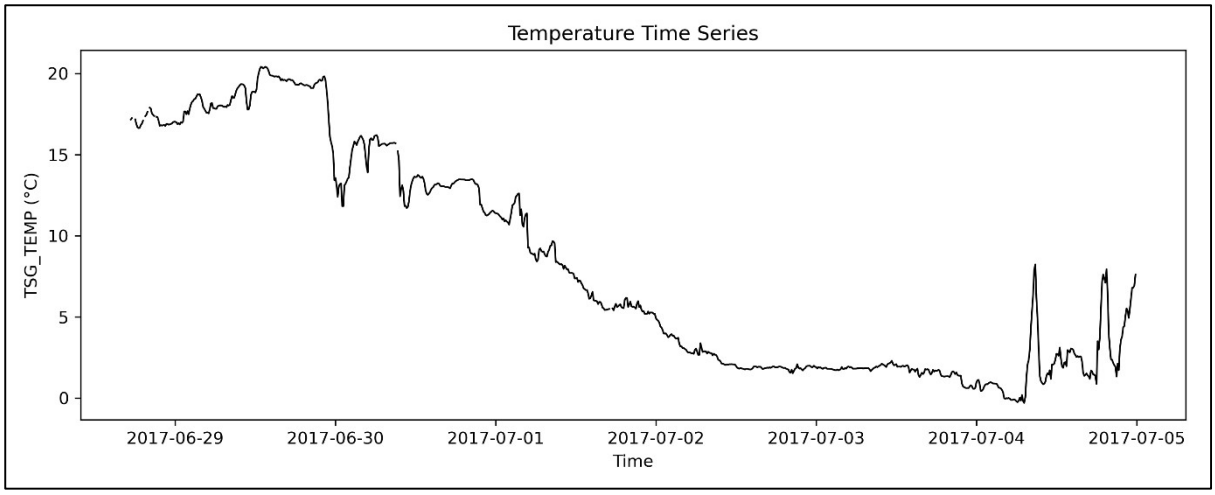

Figure 2: The figure shows time series of temperature data collected during the SA Agulhas II winter cruise in 2017.

Salinity Histogram

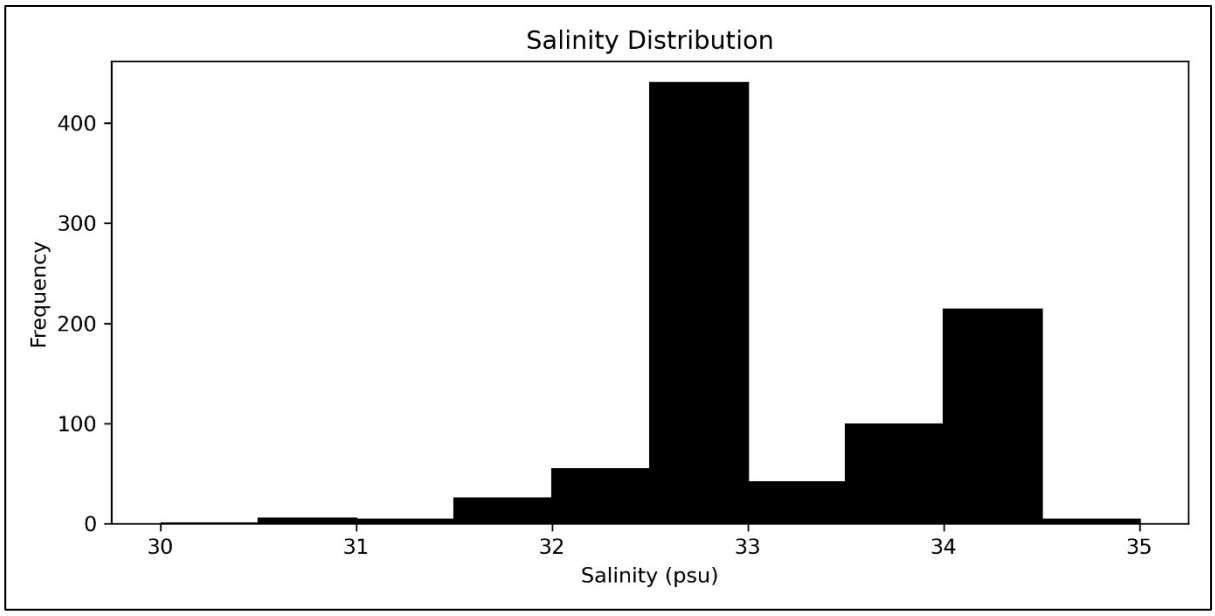

Figure 3: The figure shows distribution of salinity measured during the SA Agulhas II winter cruise in 2017.

Mean, STD, and IQR for temperature and salinity

Table 1: The table shows summary statistics for temperature and salinity calculated from the dataset collected during SA Agulhas II winter cruise in 2017.

	Mean	Std	IQR
Temperature	8.146541	6.747988	11.76885
Salinity	33.11055	1.14015	1.272575

Scatter plot Wind Speed vs Air Temperature

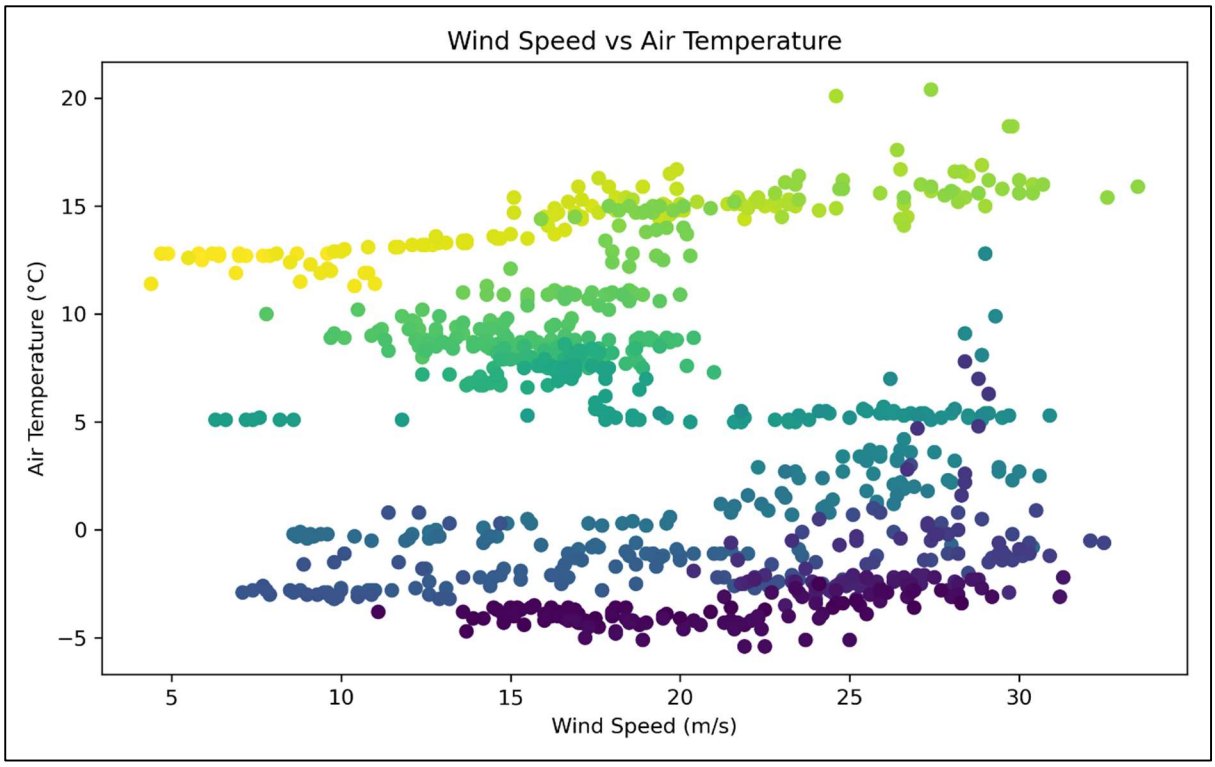

Figure 4: The figure shows scatter plot showing the relationship between wind speed and air temperature recorded during the SA Agulhas II cruise in 2017.